MINNESOTA
EMERGENCY MEDICAL SERVICES
REGULATORY BOARD

2023 EMS System Report

March 2024

Emergency Medical Services Regulatory Board
335 Randolph Ave, Suite 220
St. Paul, MN 55102
(Phone) 651-201-2800
Dylan.Ferguson@state.mn.us
mn.gov/emsrb

Upon request, this material will be made available in an alternative format such as large print, Braille or audio recording. Printed on recycled paper.

Contents

Contents 3

Table 1 EMS Data Summary Figures 5

Figure 1 Number of EMS Responses by Month CY2023 6

Figure 2 Age Distribution of Patient Contacts CY2023 7

Figure 3 Responses by Day of Week CY2023 8

Figure 4 Responses by Hour of Day CY2023 9

Table 2 EMS Responses by Day/Month CY2023 10

Map 1 Ground Ambulance Activations per 1,000 Population CY2023 11

Map 2 Ground Ambulance Activations per 1,000 Population 911/Emergency Only CY2023 12

Figure 5 Age and Gender Distribution of EMS Naloxone Administrations (Emergency Records) CY2023 13

Figure 6 Top 10 Complaints Reported by Dispatch Resulting in EMS Naloxone Administration (Emergency Records) CY2023 14

Figure 7 Naloxone Patient Encounters by Month (Emergency Records) CY2023 15

Map 3 Naloxone Patient Contact by County (Emergency Records) CY2023 16

Table 3 Naloxone Patient Contact by Day and Hour of Dispatch (Emergency Records) CY2023 17

Figure 8 2023 Clinical Advisory Performance Measure Report 18

Table 4 Response Timetable by County Based on Documented Public Safety Answering Point Time CY2023 19

Table 5 Response Timetable by County Based on Documented Received by Dispatch Center Time CY2023 22

Map 4 90th Percentile Dispatch Center Notified to Ambulance Arrival [Ground Ambulances Only] (Emergency Records) CY2023 25

Table 6 Response Timetable by County Based on Documented Time Unit Notified by Dispatch CY2023 26

Figure 9 Percent Distribution of Unit Notified to Scene Time in Minutes Emergency Records, Ground Ambulances CY 2023 30

Map 5 90th Percentile Unit Notified by Dispatch to Ambulance Arrival [Ground Ambulances Only] (Emergency Records) CY2023 31

Table 7 Mobilization Time [Ground Ambulances] (Emergency Records) CY2023 32

Map 6 90th Percent Mobilization Time [Ground Ambulances] (Emergency Records) 35

Map 7 Number of EMRs Certified by County CY2022 36

Map 8 Number of EMTs Certified by County CY2023 37

Map 9 Number of EMS Provider Expirations During CY2023 All Certification Levels 38

Table 1 EMS Data Summary Figures

Table 1 displays topline summary figures of the state EMS system as a whole. There was a total of 732,597 documented responses with 608,224 (83.02%) being emergency response call types.

Metric	Count	% Of Total
Type of service requested		
*911 Response (Scene)	595,391	81.27%
*Intercept	3,075	<1%
Interfacility transport	103,707	14.15%
Medical transport	16,773	2.28%
*Mutual aid	6,634	<1%
*Public assistance	3,124	<1%
Standby	3,628	<1%
Transfer to air ambulance from hospital	265	<1%
Total emergency records	608,224	83.02%
Total EMS responses	732,597	100%
EMS patients by gender		
Female	328,893	50.76%
Male	316,407	48.83%
Unknown (unable to determine)	2,671	<1%
EMS patients by age		
0-17 years	42,554	6.54%
18-64 years	312,922	48.08%
65+ years	295,367	45.38%
Reported pre-hospital cardiac arrests	13,515	2.22% of Emergency Records
Naloxone administration		
Number of naloxone doses administered (911)	8,528	
Number of 911 encounters with at least 1 dose of naloxone	5,911	

* Indicates type categorized as emergency records

Figure 1 Number of EMS Responses by Month CY2023

Figure 1 displays the total number of EMS responses by month for calendar year 2023 (CY2022). EMS response volume peaked in the month of August with 63,959.

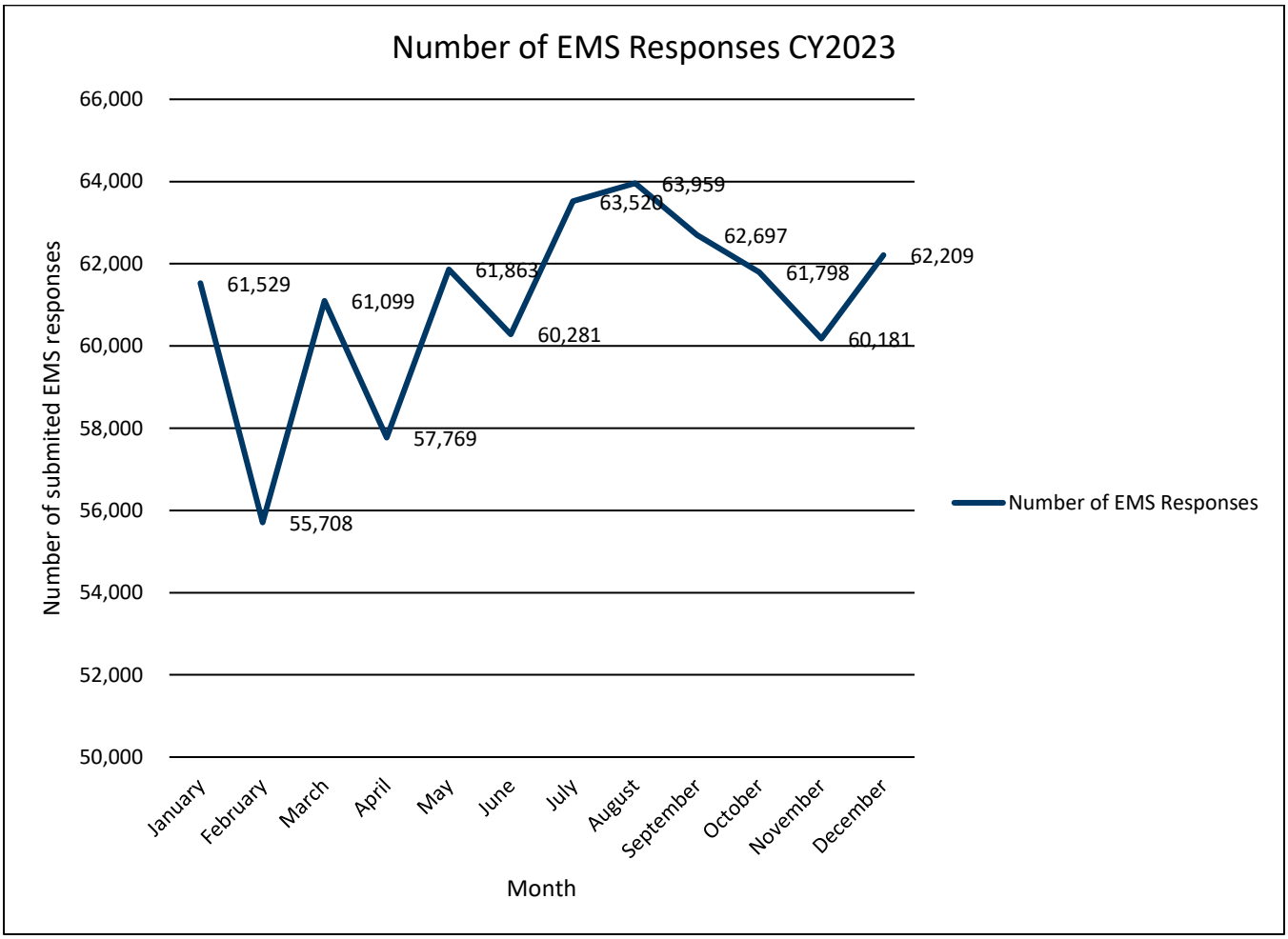

Figure 2 Age Distribution of Patient Contacts CY2023

Figure 2 displays the age demographic by percentage that presents to the EMS system for all responses. Patients aged 80 years and older had the most utilization of the EMS system (20%).

The Medicare eligible patient population, those 65 years of age or older, make up 45% of people using the EMS system. This is important to EMS agency administrators when they are evaluating their payor mix.

The Birth to nine-year demographic presented to the EMS system the least (3%). With minimal exposure to pediatric patients, it is important for EMS providers to remain proficient in pediatric patient management. The EMSRB encourages EMS agencies to participate in various trainings and activities offered by Minnesota Emergency Medical Services for Children (EMSC).

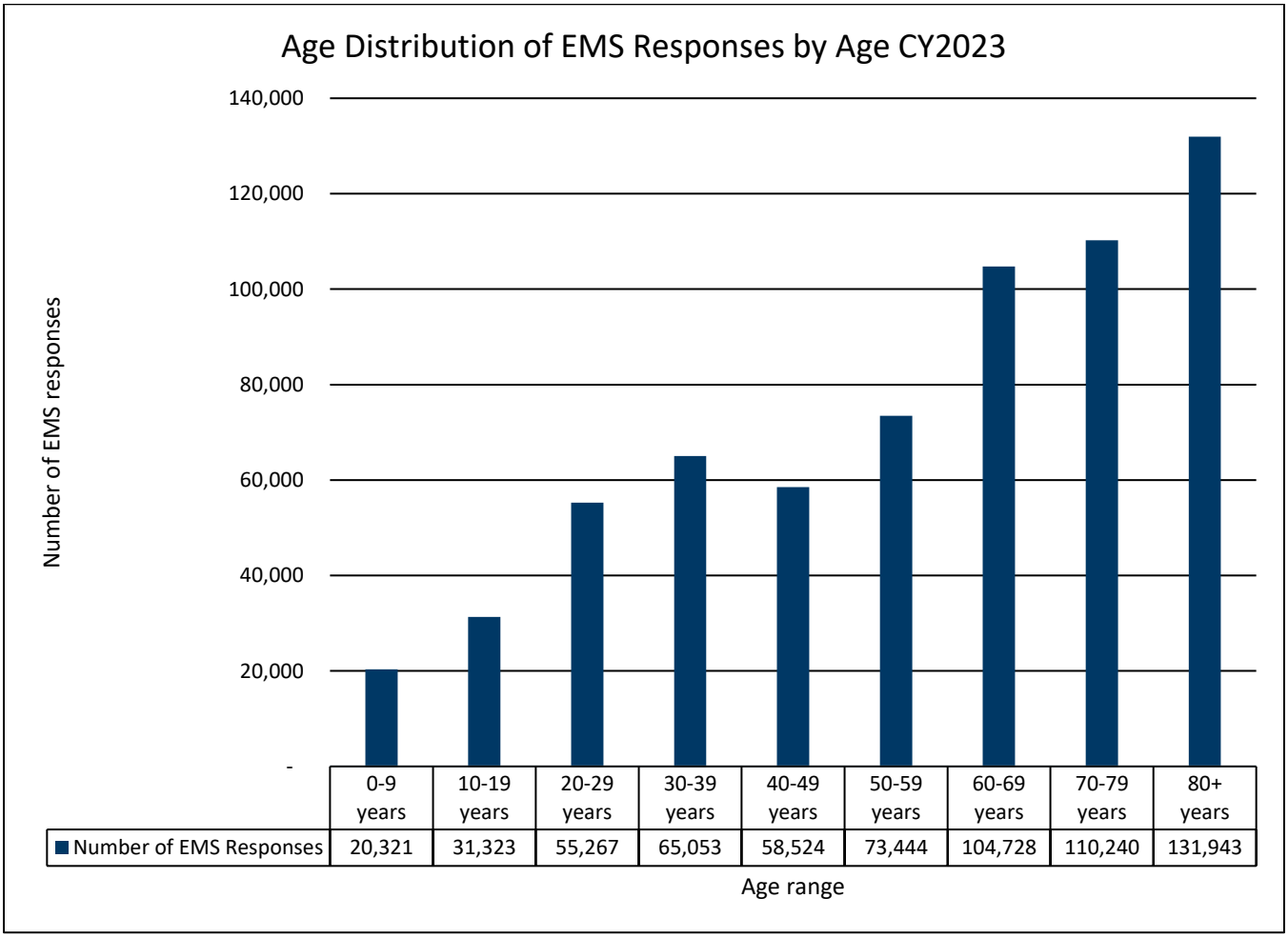

	0-9 years	10-19 years	20-29 years	30-39 years	40-49 years	50-59 years	60-69 years	70-79 years	80+ years
Number of EMS Responses	20,321	31,323	55,267	65,053	58,524	73,444	104,728	110,240	131,943

Figure 3 Responses by Day of Week CY2023

Figure 3 shows that the number of calls for service by day is consistent from day-to-day. Sunday has the lowest number of requests for service while Friday has the most. EMS leaders can utilize this data and local versions of this data to assist with resource deployment decisions.

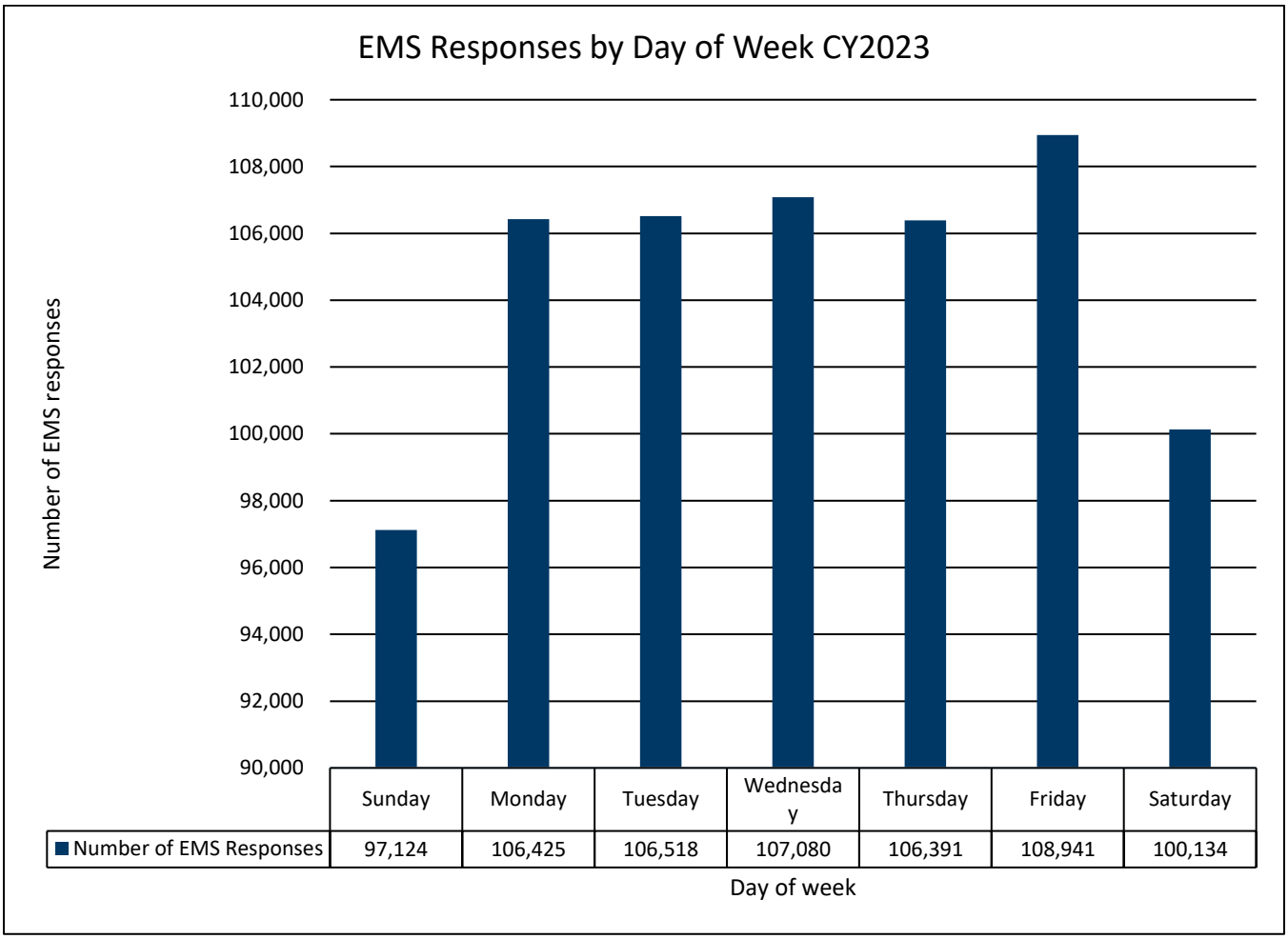

Figure 4 Responses by Hour of Day CY2023

Figure 4 shows the number of EMS responses by hour of day. The hour of day is displayed along with how many EMS calls for service were received during that time frame. There is a peak of requested responses in the 2 PM hour before beginning to drop off significantly in the 9 PM hour.

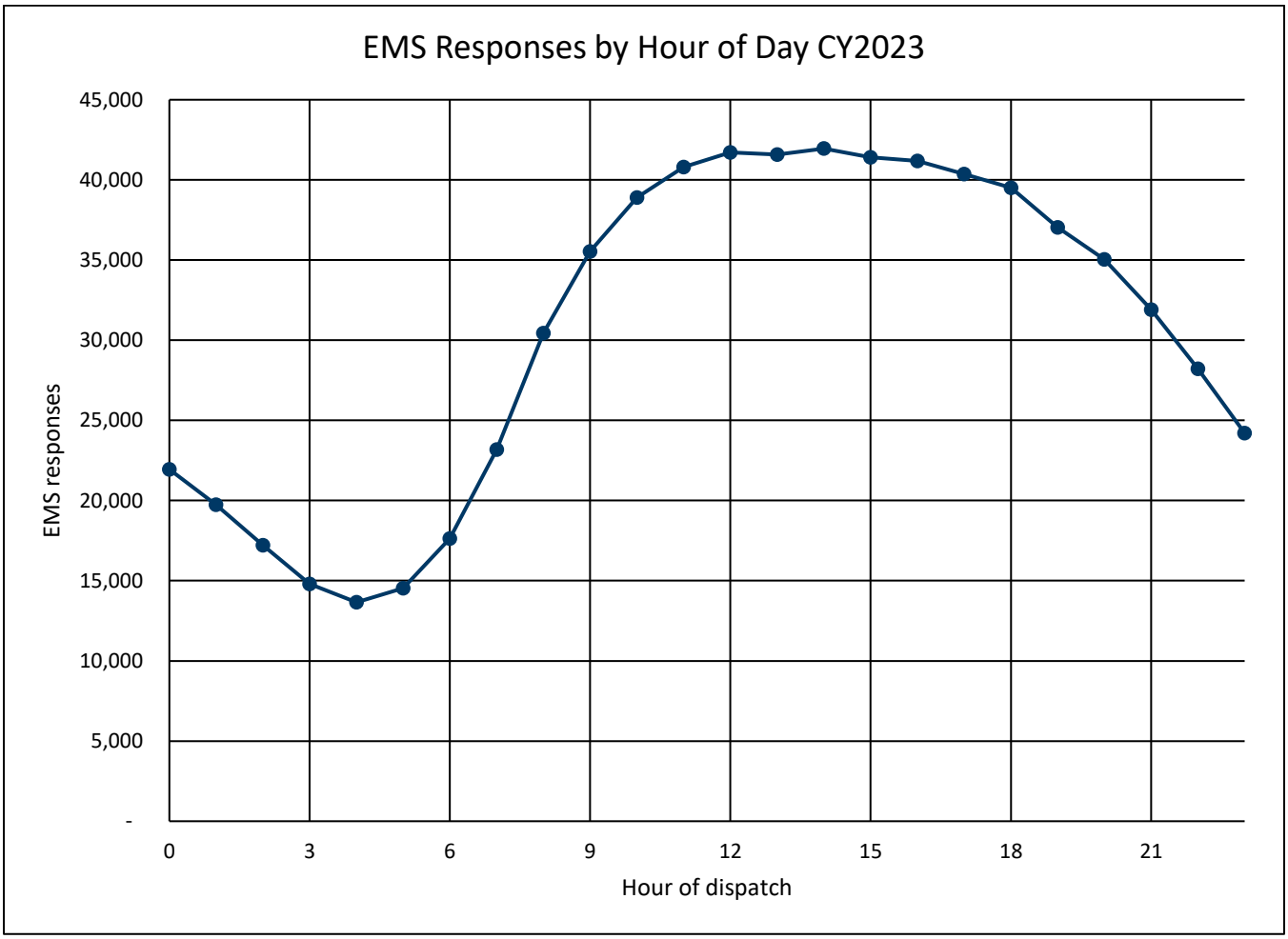

Table 2 EMS Responses by Day/Month CY2023

Table 2 displays the total number of EMS responses by day and month based on values provided in the date/time unit dispatched field. The top three busiest days are bolded.

Day	Jan.	Feb.	Mar.	Apr.	May	Jun.	July	Aug.	Sept.	Oct.	Nov.	Dec.
1	2106	1994	2086	1987	2042	2069	1918	2028	**2262**	2088	2029	2104
2	1900	1887	2038	1911	2029	2153	1860	2161	2170	2233	1989	1895
3	2148	1928	2178	2095	2152	1989	2075	2122	2090	2130	2101	1901
4	2124	1823	1791	1947	2195	1951	1926	2137	2016	2028	1938	2079
5	2163	1788	1751	1965	1994	2103	2122	1937	2170	2056	1889	2088
6	2158	1994	1939	1986	1800	2030	2083	1813	2026	2123	2104	2079
7	1921	2197	1964	1890	1790	2081	2034	2117	2169	1885	2130	2034
8	1711	2044	1937	1827	2167	1988	1935	2067	2197	1831	2019	2147
9	2108	2043	1947	1660	1945	2017	1938	2033	2049	2054	2134	2023
10	2074	2127	2080	2061	2072	1883	2077	2066	1791	2066	2070	1768
11	2144	1965	1890	2121	2092	1770	2032	2140	2020	2119	1818	2110
12	2036	1783	1789	2217	2075	2024	2048	1994	2039	2068	1807	2207
13	2077	2057	1942	2121	1809	2109	2031	1846	2098	2121	2105	2114
14	1802	2084	2000	2104	1759	1991	2252	1949	2146	1986	2123	2043
15	1823	2108	2066	1854	2073	1969	2032	2057	2140	1774	2157	2140
16	2103	1956	2230	1721	2053	2052	1788	2210	1959	1946	2080	1946
17	2123	2022	2188	1976	2041	1970	1956	2121	1954	1950	2142	1894
18	2034	1985	1895	1986	1930	1860	2107	2146	2216	1920	1876	1932
19	2051	1819	1833	1929	1881	2120	2079	2135	2140	1857	1860	1681
20	2032	**2341**	1955	1918	1942	2065	2183	1918	2150	1965	1990	1984
21	1869	2067	2041	1919	1798	2090	**2258**	2038	2199	1803	2069	2112
22	1715	1877	2007	1729	2026	2057	2025	2161	2166	1737	2028	2065
23	1956	1783	2008	1716	2050	2024	1882	2087	1895	1994	1614	1914
24	1980	2153	2048	1931	2075	1921	2209	2151	1894	2013	1911	1897
25	1980	1882	1820	1924	2041	1793	2107	2202	2157	2044	1922	1722
26	1938	1695	1825	1959	2074	2061	2152	1954	2057	2122	1815	2058
27	2143	2254	2015	1951	2003	1905	2246	1865	2119	2047	2039	2098
28	1823	2052	1934	1940	1908	1952	2184	2213	2063	1898	2115	2064
29	1684		1903	1750	1848	2044	2042	2117	2141	1813	2213	2203
30	1946		1953	1674	2088	2240	1922	2024	2204	2020	2094	2051
31	1857		2046		2111		2017	2150		2107		1856

Map 1 Ground Ambulance Activations per 1,000 Population CY2023

Map 1 displays the rate of ground ambulance activations of all types ,911 and transfers, adjusted for reported county population from the U.S. Census Bureau.

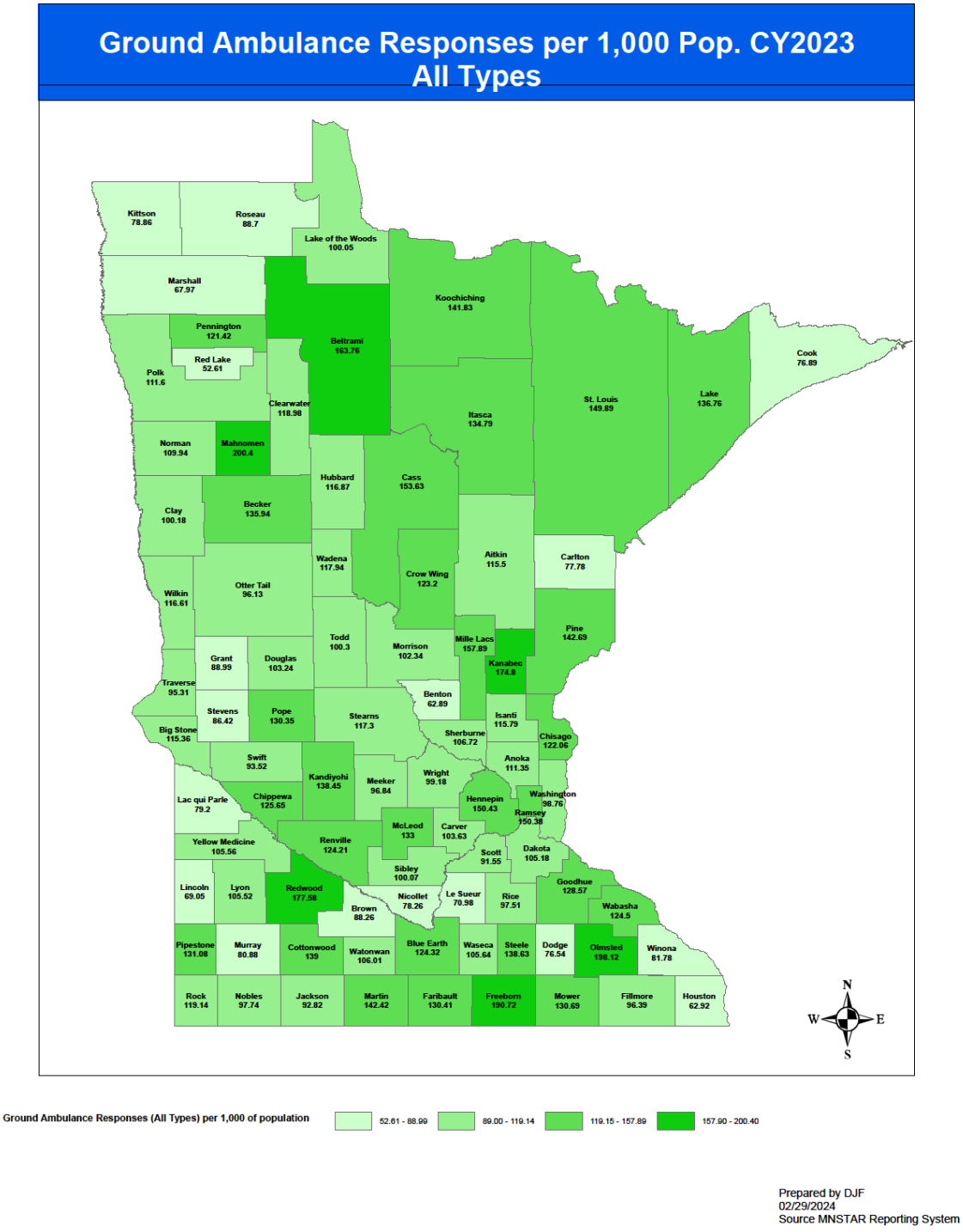

Map 2 Ground Ambulance Activations per 1,000 Population 911/Emergency Only CY2023

Map 2 displays the rate of ground ambulance activations for only 911/emergency call types, adjusted for reported county population from the U.S. Census Bureau.

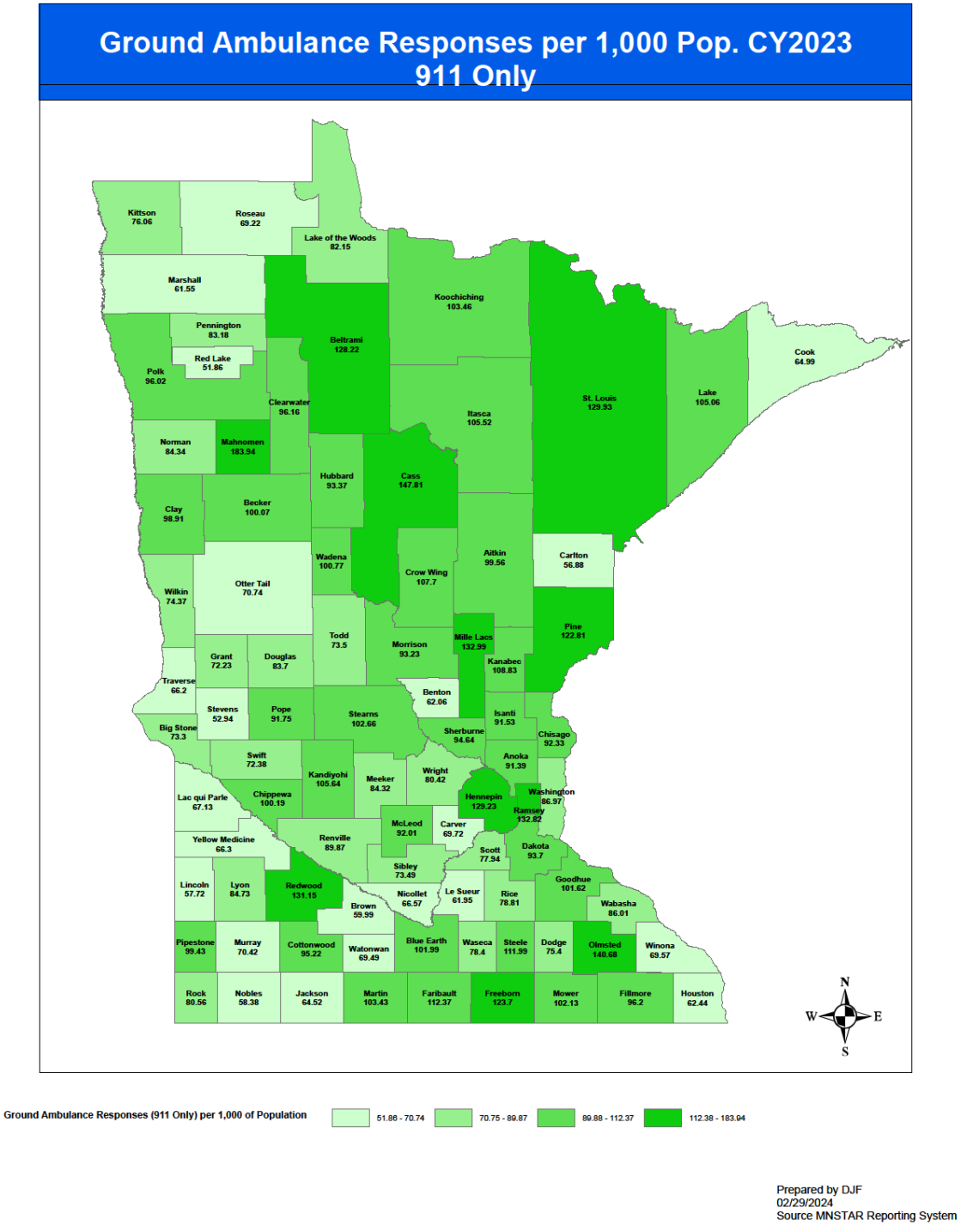

Figure 5 Age and Gender Distribution of EMS Naloxone Administrations (Emergency Records) CY2023

Figure 5 displays the percentage breakdowns of naloxone use by EMS providers by age groups and gender. It is restricted to emergency records only, which includes type of service request categories that are * in Table 1 of this report. Males in the 30–39-year-old age group had the highest rate of being administered naloxone. It should be noted that naloxone administration does not in and of itself constitute an overdose, as naloxone in some locations may routinely be administered as part of an unconscious unknown etiology clinical guideline.

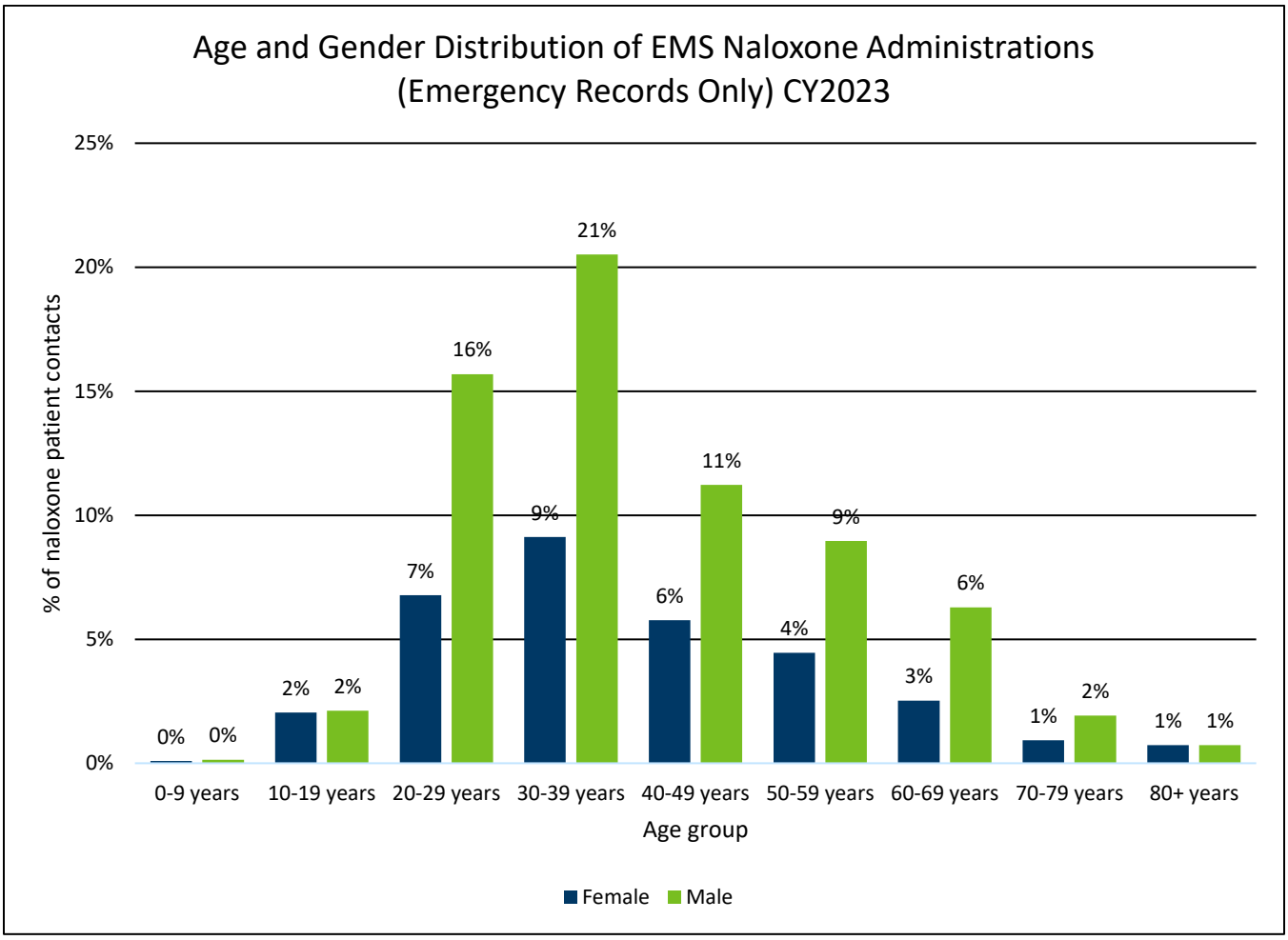

Figure 6 Top 10 Complaints Reported by Dispatch Resulting in EMS Naloxone Administration (Emergency Records) CY2023

Figure 6 displays the top 10 complaints reported by dispatch that ultimately resulted in naloxone administration. Overdose was number one with unconscious/fainting being number two.

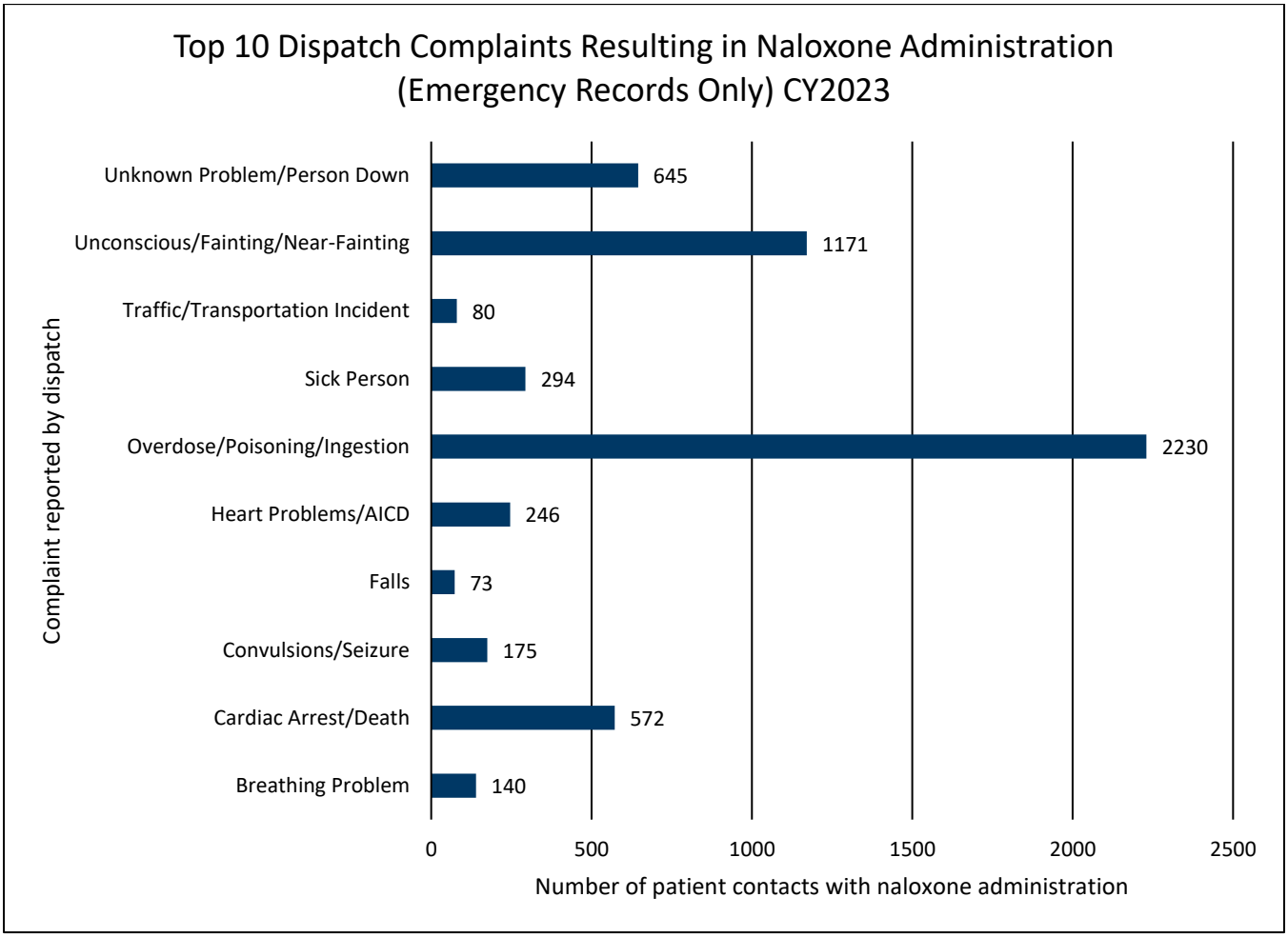

Figure 7 Naloxone Patient Encounters by Month (Emergency Records) CY2023

Figure 7 displays by month the number of patients that EMS administered at least one dose of naloxone to. July, August, and September were the top three months for patient encounters resulting in naloxone administration, whereas January, February, and December were the lowest.

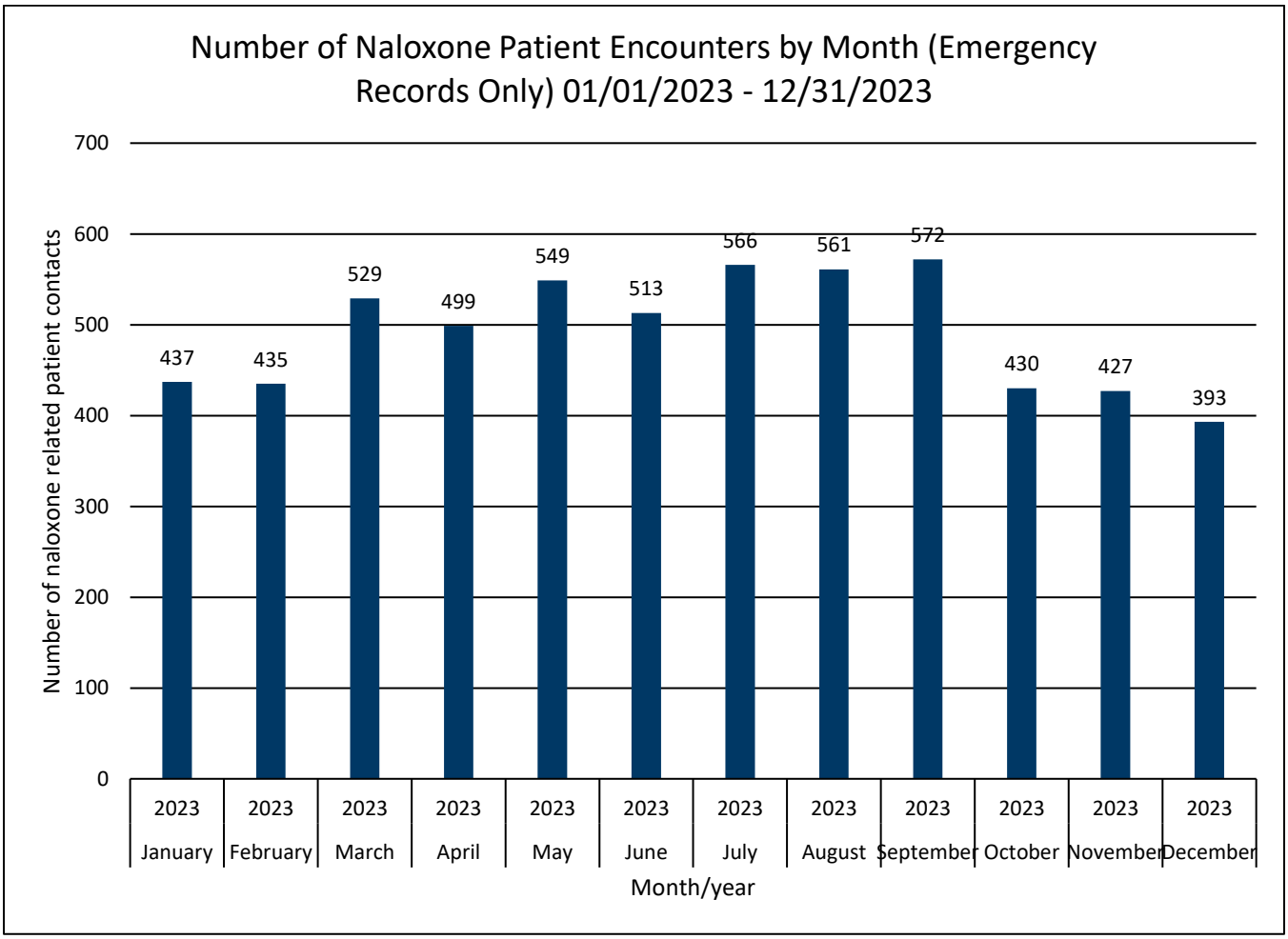

Map 3 Naloxone Patient Contact by County (Emergency Records) CY2023

Map 3 displays by county the number of 911 EMS patient encounters with documented naloxone in administration in CY2023. All values with counts less than 20 have been suppressed to protect patient privacy. Counties in grey on the map below had no records matching the criteria.

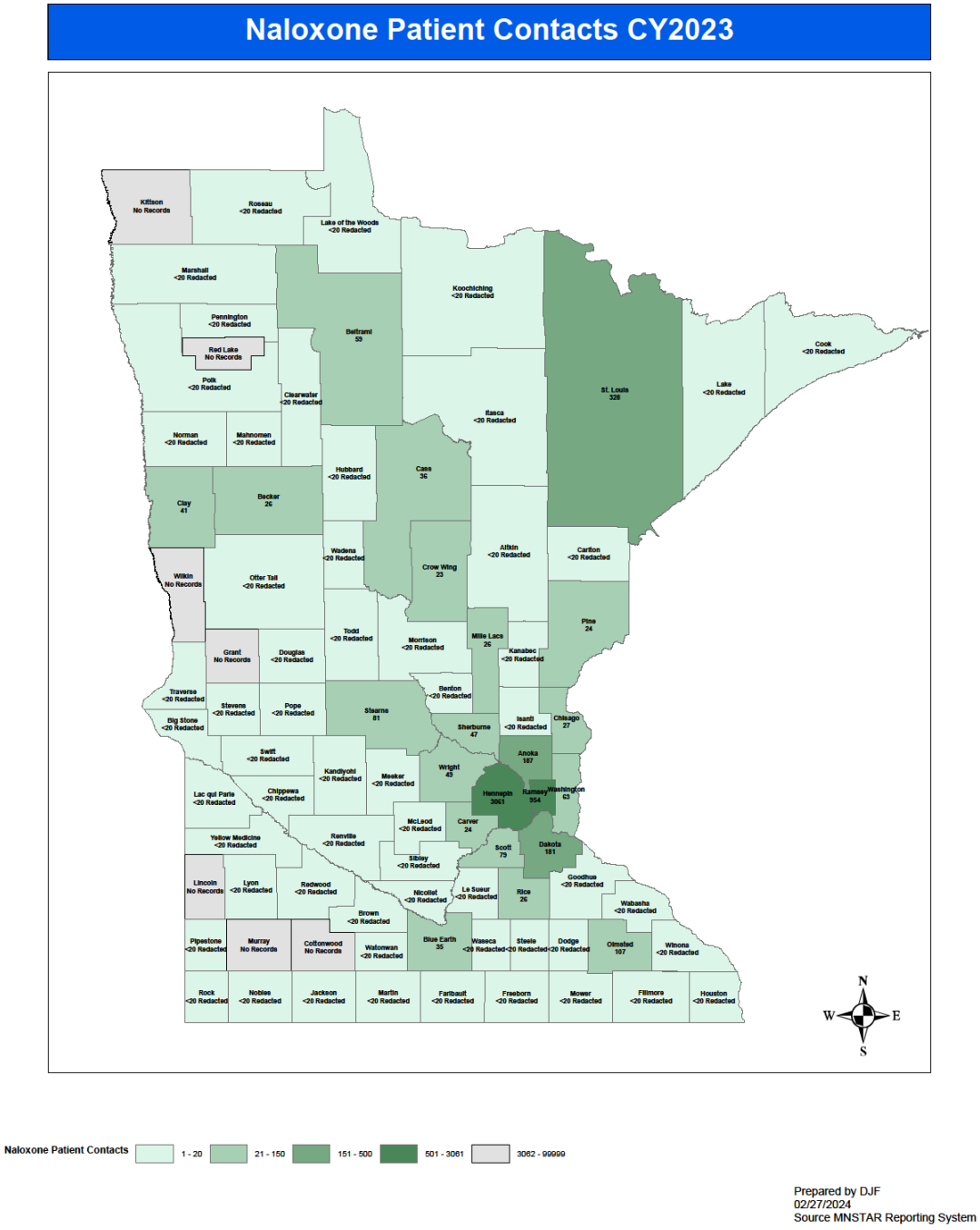

Table 3 Naloxone Patient Contact by Day and Hour of Dispatch (Emergency Records) CY2023

Table 3 displays the hour of dispatch and day of week during which EMS administered naloxone. Values of less than 20 have been suppressed to protect patient privacy. The most frequent day and time for naloxone administration by EMS is in the Friday evening hours between 20:00 and 23:00 hours.

Hour	Sunday	Monday	Tuesday	Wednesday	Thursday	Friday	Saturday
0:00	44	28	28	41	27	28	37
1:00	49	33	30	21	22	28	35
2:00	24	22	23	31	<20	24	35
3:00	25	22	28	<20	<20	<20	27
4:00	21	22	10	<20	<20	20	20
5:00	<20	<20	<20	<20	<20	<20	<20
6:00	<20	<20	<20	<20	23	<20	<20
7:00	<20	<20	21	<20	<20	27	24
8:00	25	23	31	<20	<20	<20	21
9:00	23	26	25	30	32	28	34
10:00	23	31	30	30	21	22	20
11:00	29	39	35	40	27	42	40
12:00	46	40	39	45	35	27	43
13:00	40	40	39	35	35	46	33
14:00	43	36	40	40	36	51	38
15:00	36	45	42	46	43	50	47
16:00	39	36	36	42	45	54	58
17:00	53	37	49	55	48	54	51
18:00	51	42	56	46	44	58	57
19:00	39	43	52	42	43	56	59
20:00	47	45	58	44	54	53	43
21:00	39	56	56	54	48	57	55
22:00	51	48	36	48	51	53	44
23:00	43	29	45	43	46	67	48

Figure 8 2023 Clinical Advisory Performance Measure Report

In 2022, the EMSRB in consultation with the Medical Director Standing Advisory Committee (MDSAC) established nine (9) clinical advisory performance measures. Figure 8 displays the statewide performance for ground ambulances for each measure for calendar year 2023.

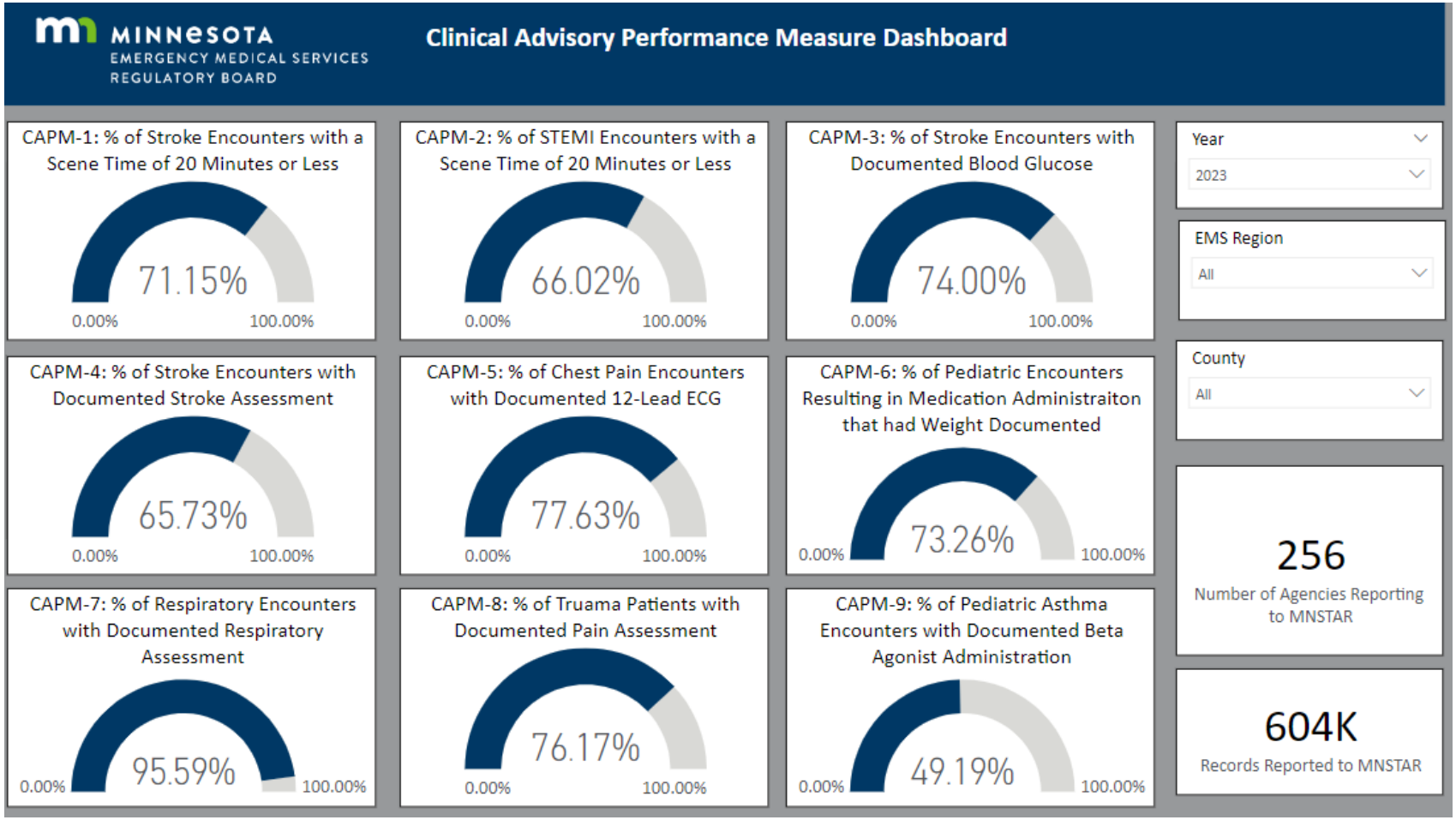

Table 4 Response Timetable by County Based on Documented Public Safety Answering Point Time CY2023

Table 4 displays time intervals for median, average, and 90th percentile by Minnesota County for 911 ground ambulance responses. This was calculated using the interval between the call received by PSAP (911 center) time and the time that the ambulance arrived on scene. The validity rate was calculated by dividing the number of responses with a PSAP time by the total number of ground ambulance responses. Counties with validity rates less than 30% do not have their time data displayed.

County	Responses with Valid PSAP Time Documented	Number of 911 Ground Ambulance Responses	PSAP Time Validity Rate	Median PSAP to Scene Time	Average PSAP to Scene Time	90th Percentile PSAP to Scene Time
Aitkin	905	1,501	60.29%	6	10.26	23
Anoka	27,955	28,938	96.60%	9	10.71	17
Becker	185	3,296	5.61%			
Beltrami	3,777	5,587	67.60%	7	8.78	16
Benton	99	2,060	4.81%			
Big Stone	14	356	3.93%			
Blue Earth	32	5,970	0.54%			
Brown	851	1,442	59.02%	6	10.93	15
Carlton	266	1,934	13.75%			
Carver	6,678	6,682	99.94%	8	9.13	15
Cass	2,739	4,208	65.09%	15	16.23	27
Chippewa	21	1,110	1.89			
Chisago	124	4,660	2.66%			
Clay	5,067	5,371	94.34%	8	9.50	16
Clearwater	698	737	94.71%	9	12.06	24
Cook	157	332	47.29%	16.5	19.05	30.7
Cottonwood	596	1,032	57.75%	8	8.89	13
Crow Wing	5,769	6,724	85.80%	10	12.27	21
Dakota	22,054	38,364	57.49%	8	8.51	13
Dodge	1,111	1,506	73.77%	13	15.45	23
Douglas	9	2,928	0.31%			
Faribault	32	1,434	2.23%			
Fillmore	2	1,948	0.10%			
Freeborn	15	3,185	0.47%			

Goodhue	138	4,455	3.10%			
Grant	13	394	3.30%			
Hennepin	153,038	153,712	99.56%	8	9.50	15
Houston	0	1,156	0%			
Hubbard	1,891	1,926	98.18%	11	13.77	24.90
Isanti	2,872	3,203	89.67%	10	13.13	20
Itasca	495	4,603	10.75%			
Jackson	34	620	5.48%			
Kanabec	22	1,588	1.39%			
Kandiyohi	2,983	3,820	78.09%	8	11.45	18
Kittson	5	319	1.57%			
Koochiching	37	1,282	2.89%			
Lac qui Parle	5	421	1.19%			
Lake	2	1,073	0.19%			
Lake of the Woods	10	301	3.32%			
Le Sueur	1,178	1,695	69.50%	9	10.90	18
Lincoln	12	317	3.79%			
Lyon	29	1,933	1.50%			
Mahnomen	149	923	16.14%			
Marshall	88	537	16.39%			
Martin	1	1,953	0.05%			
McLeod	2,702	2,877	93.92%	7	9.45	17
Meeker	107	1,585	6.75%			
Mille Lacs	1,897	3,290	57.66%	10	11.24	19
Morrison	23	2,493	0.92%			
Mower	26	3,583	0.73%			
Murray	50	571	8.76%			
Nicollet	916	1,988	46.08%	6	7.77	13
Nobles	1,207	1,264	95.49%	8	9.05	17
Norman	5	516	0.97%			
Olmsted	7	18,373	0.04%			
Otter Tail	1,833	3,890	47.12%	8	10.79	22
Pennington	1,064	1,069	99.53%	5.5	8.33	14

Pine	15	3,505	0.43%			
Pipestone	2	851	0.24%			
Polk	1,268	2,836	44.71%	10	10.56	15
Pope	971	1,001	97.00%	5	7.18	14
Ramsey	66,315	66,552	99.64%	6	7.20	12
Red Lake	10	197	5.08%			
Redwood	1,078	1,738	62.03%	8	12.43	21
Renville	299	1,227	24.37%			
Rice	2,646	4,616	57.32%	8	9.83	17
Rock	709	730	97.12%	11	12.17	22
Roseau	289	1,022	28.28%			
Scott	8,302	9,932	83.59%	9	11.51	17
Sherburne	5,393	7,912	68.16%	11	11.45	18
Sibley	619	1,031	60.14%	7	9.21	17.50
St. Louis	4,696	22,286	21.07%			
Stearns	654	13,919	4.70%			
Steele	76	3,460	2.20%			
Stevens	445	498	89.36%	9	10.61	17
Swift	27	642	4.21%			
Todd	530	1,699	31.19%	8	13.45	21
Traverse	93	212	43.87%	8	9.30	15
Wabasha	7	1,681	0.42%			
Wadena	85	1,372	6.20%			
Waseca	1,173	1,343	87.34%	8	10.46	19
Washington	17,771	20,959	84.79%	8	9.90	15
Watonwan	5	736	0.68%			
Wilkin	40	434	9.22%			
Winona	6	3,481	0.17%			
Wright	7,911	9,329	84.80%	11	13.06	21
Yellow Medicine	145	617	23.50%			
No County Identified	1,173	1,701	68.96%	13	16.25	28
Statewide	374,749	546,554	68.57%	8	9.62	16

Table 5 Response Timetable by County Based on Documented Received by Dispatch Center Time CY2023

Table 5 displays time intervals for median, average, and 90th percentile response time by county for 911 ground ambulance responses. This was calculated using the call received by the dispatch center time, which depending on jurisdiction may or may not be the same as the PSAP time and the ambulance on scene time. The validity rate was calculated by dividing the number of responses with a dispatch center time by the total number of ground ambulance responses. Counties with validity rates less than 30% do not have their time data displayed.

County	Responses with Valid Dispatch Center Notified Time	Number of 911 Ground Ambulance Responses	Dispatch Center Time Validity Rate	Median Dispatch Center Notified to Scene Time	Average Dispatch Center Notified to Scene Time	90th Percentile Dispatch Center Notified to Scene Time
Aitkin	892	1501	59.43%	7	10.78	23
Anoka	27,710	28938	95.76%	9	10.81	17
Becker	1,530	3296	46.42%	7	10.61	24
Beltrami	3,793	5587	67.89%	7	8.40	15
Benton	2,050	2060	99.51%	10	11.58	21
Big Stone	18	356	5.06%			
Blue Earth	5,439	5970	91.11%	8	10.77	17
Brown	861	1442	59.71%	6	11.04	15
Carlton	698	1934	36.09%	8	10.17	18
Carver	6,632	6682	99.25%	8	9.13	15
Cass	2,773	4208	65.90%	14	15.58	27
Chippewa	21	1,110	1.89%			
Chisago	4,569	4660	98.05%	11	12.90	20
Clay	60	5371	1.12%			
Clearwater	31	737	4.21%			
Cook	77	332	23.19%			
Cottonwood	634	1,032	61.43%	8	9.07	13
Crow Wing	5,788	6724	86.08%	9	11.73%	20
Dakota	37,132	38364	96.79%	8	8.85	14
Dodge	1,249	1506	82.93%	13	15.09	23
Douglas	407	2928	13.90%			
Faribault	427	1434	29.78%			
Fillmore	164	1948	8.42%			

Freeborn	3,059	3185	96.04%	7	16.26	19
Goodhue	466	4455	10.46%			
Grant	58	394	14.72%			
Hennepin	151,248	153712	98.40%	8	9.39	15
Houston	588	1156	50.87%	11	12.54	20
Hubbard	1,875	1926	97.35%	11	12.83	23
Isanti	3,089	3203	96.44%	11	13.74	21
Itasca	1,014	4603	22.03%			
Jackson	214	620	34.52%	11	11.85	20
Kanabec	97	1588	6.11%			
Kandiyohi	2,977	3820	77.93%	8	11.53	18
Kittson	12	319	3.76%			
Koochiching	498	1282	38.35%	6	8.17	13
Lac qui Parle	27	421	6.41%			
Lake	9	1073	0.84%			
Lake of the Woods	9	301	2.99%			
Le Sueur	1,217	1695	71.80%	9	10.25	18
Lincoln	25	317	7.89%			
Lyon	50	1933	2.59%			
Mahnomen	355	923	38.46%	8	10.21	18
Marshall	51	537	9.50%			
Martin	1,481	1953	75.83%	5	12.35	13
McLeod	2,681	2877	93.19%	7	9.57	17
Meeker	1,290	1585	81.39%	9	14.54	21
Mille Lacs	2,044	3290	62.13%	9	10.74	18
Morrison	2,343	2493	93.98%	9	14.88	26
Mower	3,020	3583	84.29%	7	12.32%	15
Murray	126	571	22.07%			
Nicollet	1,944	1988	97.79%	8	9.21	15
Nobles	2	1264	0.16%			
Norman	225	516	43.60%	17	16.41	28
Olmsted	17,742	18373	96.57%	7	9.46	14
Otter Tail	3,053	3890	78.48%	8	11.32	23

Pennington	2	1,069	0.19%			
Pine	1,787	3505	50.98%	13	14.27	25
Pipestone	5	851	0.59%			
Polk	894	2836	31.52%	8	10.42	19
Pope	977	1001	97.60%	5	7.38	14
Ramsey	65,781	66552	98.84%	6	7.33	12
Red Lake	11	197	5.58%			
Redwood	1,086	1738	62.49%	8	12.40	21
Renville	464	1227	37.82%	13	13.84	21
Rice	4,562	4616	98.83	8	9.52	17
Rock	0	730	0.00%			
Roseau	397	1022	38.85%	11	12.09	22
Scott	8,397	9932	84.54%	9	11.60	18
Sherburne	7,849	7912	99.20%	10	11.28	18
Sibley	623	1031	60.43%	7	9.26	17
St. Louis	18,208	22286	81.70%	8	9.89	17
Stearns	12,771	13919	91.75%	8	11.72	19
Steele	3,119	3460	90.14%	7	9.42	14
Stevens	494	498	99.20%	9	10.45	17
Swift	33	642	5.14%			
Todd	618	1699	36.37%	9	14.78	24
Traverse	107	212	50.47%	8	9.74	15
Wabasha	1,057	1681	62.88%	5	7.43	15
Wadena	83	1372	6.05%			
Waseca	1,196	1343	89.05%	7	10.03	19
Washington	20,597	20,959	98.27	7	8.30	14
Watonwan	51	736	6.93%			
Wilkin	109	434	25.12%			
Winona	2,668	3481	76.64%	6	7.43	11
Wright	8,093	9329	86.75%	11	13.27	21
Yellow Medicine	5	617	0.81%			
No County Identified	1,431	1,701	84.13%	12	13.85	25
Statewide	469,319	546,554	85.87%	8	9.73	16

Map 4 90th Percentile Dispatch Center Notified to Ambulance Arrival [Ground Ambulances Only] (Emergency Records) CY2023

Map 4 displays the 90th percent time from dispatch center notified to ambulance on scene interval by county for CY2023. Counties, that had less than a 30% validity rate in table 5 have had their values suppressed.

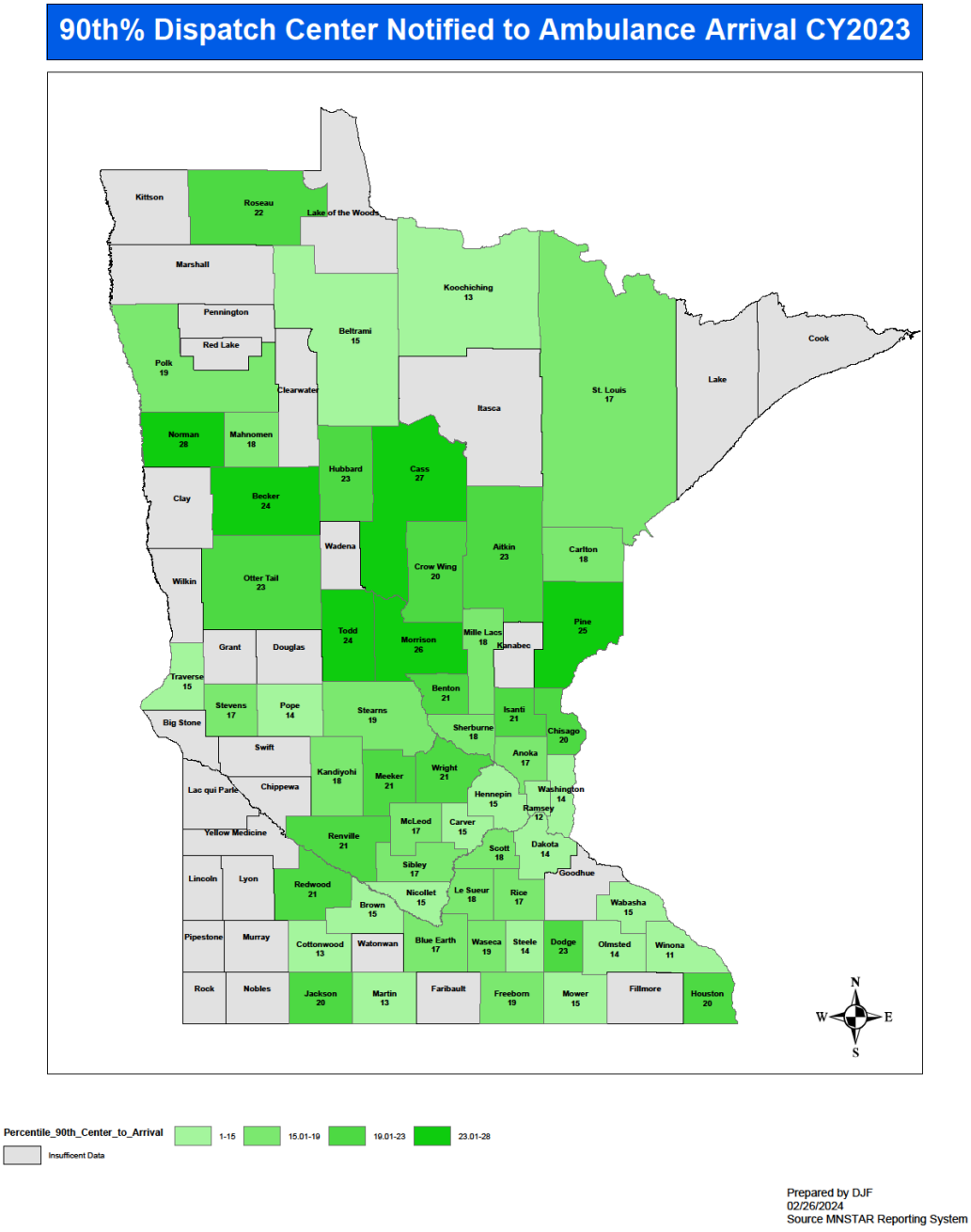

Table 6 Response Timetable by County Based on Documented Time Unit Notified by Dispatch CY2023

Table 6 displays time intervals for median, average, and 90th percentile by Minnesota County for 911 ground ambulance responses. This was calculated using the interval between the time that the unit was notified by dispatch and the time that the ambulance arrived on scene. Also included are the number of records that have a valid dispatch center time documented. All submitted records had a date/time that the unit was notified by dispatch, so all counties have a validity rate of 100%.

County	Number of EMS Responses	Responses with Valid Unit Notified Time	Unit Notified Validity Rate	Median Unit Notified to Scene Time	Average Unit Notified to Scene Time	90th Percentile Unit Dispatched to Scene Time
Aitkin	1,501	1,501	100.00%	12	13.86	26
Anoka	28,938	28,938	100.00%	8	8.98	15
Becker	3,296	3,296	100.00%	7	9.29	20
Beltrami	5,587	5,587	100.00%	7	8.89	16
Benton	2,060	2,060	100.00%	9	10.82	20
Big Stone	356	356	100.00%	11	13.27	22
Blue Earth	5,970	5,970	100.00%	7	8.53	15
Brown	1,442	1,442	100.00%	6	8.53	16
Carlton	1,934	1,934	100.00%	8	9.33	18
Carver	6,682	6,682	100.00%	8	8.35	14
Cass	4,208	4,208	100.00%	12	13.17	24
Chippewa	1,110	1,110	100.00%	8	9.76	17
Chisago	4,660	4,660	100.00%	10	11.17	19
Clay	5,371	5,371	100.00%	7	8.87	15
Clearwater	737	737	100.00%	9	11.20	23
Cook	332	332	100.00%	15	17.40	32
Cottonwood	1,032	1,032	100.00%	8	9.29	14
Crow Wing	6,724	6,724	100.00%	9	10.50	19
Dakota	38,364	38,364	100.00%	7	7.53	12
Dodge	1,506	1,506	100.00%	11	11.30	18

Douglas	2,928	2,928	100.00%	7	9.42	18
Faribault	1,434	1,434	100.00%	8	9.88	17
Fillmore	1,948	1,948	100.00%	9	11.38	18
Freeborn	3,185	3,185	100.00%	6	8.07	15
Goodhue	4,455	4,455	100.00%	7	8.79	16
Grant	394	394	100.00%	12	13.67	25
Hennepin	153,712	153,712	100.00%	7	7.54	13
Houston	1,156	1,156	100.00%	10	11.41	19
Hubbard	1,926	1,926	100.00%	9	11.53	21
Isanti	3,203	3,203	100.00%	10	11.38	20
Itasca	4,603	4,603	100.00%	9	11.90	22
Jackson	620	620	100.00%	8	9.48	16
Kanabec	1,588	1,588	100.00%	8	9.79	18
Kandiyohi	3,820	3,820	100.00%	7	8.57	15
Kittson	319	319	100.00%	13	15.55	28.2
Koochiching	1,282	1,282	100.00%	7	13.88	29
Lac qui Parle	421	421	100.00%	8	12.06	21
Lake	1,073	1,073	100.00%	8	12.75	30
Lake of the Woods	301	301	100.00%	15	20.26	37
Le Sueur	1,695	1,695	100.00%	8	9.33	16
Lincoln	317	317	100.00%	10	11.35	19
Lyon	1,933	1,933	100.00%	6	7.57	14
Mahnomen	923	923	100.00%	8	10.97	21
Marshall	537	537	100.00%	11	15.05	29
Martin	1,953	1,953	100.00%	6	8.92	16
McLeod	2,877	2,877	100.00%	6	8.19	16
Meeker	1,585	1,585	100.00%	9	11.07	19
Mille Lacs	3,290	3,290	100.00%	10	11.29	20
Morrison	2,493	2,493	100.00%	8	11.23	23
Mower	3,583	3,583	100.00%	6	7.73	14
Murray	571	571	100.00%	9	11.52	19
Nicollet	1,988	1,988	100.00%	7	8.07	14
Nobles	1,264	1,264	100.00%	7	9.18	18

Norman	516	516	100.00%	16	15.20	26
Olmsted	18,373	18,373	100.00%	7	7.53	13
Otter Tail	3,890	3,890	100.00%	9	11.30	22
Pennington	1,069	1,069	100.00%	5	7.47	13
Pine	3,505	3,505	100.00%	12	13.21	24
Pipestone	851	851	100.00%	8	9.17	16
Polk	2,836	2,836	100.00%	8	10.04	17
Pope	1,001	1,001	100.00%	5	7.53	14
Ramsey	66,552	66,552	100.00%	6	6.30	10
Red Lake	197	197	100.00%	8	11.20	22
Redwood	1,738	1,738	100.00%	8	9.71	18
Renville	1,227	1,227	100.00%	12	13.19	21
Rice	4,616	4,616	100.00%	7	8.49	16
Rock	730	730	100.00%	10	10.85	20
Roseau	1,022	1,022	100.00%	9	11.95	23
Scott	9,932	9,932	100.00%	8	9.08	15
Sherburne	7,912	7,912	100.00%	10	10.27	17
Sibley	1,031	1,031	100.00%	7	8.67	16
St. Louis	22,286	22,286	100.00%	8	9.47	17
Stearns	13,919	13,919	100.00%	8	9.42	18
Steele	3,460	3,460	100.00%	6	7.59	13
Stevens	498	498	100.00%	9	10.14	17
Swift	642	642	100.00%	10	11.83	19
Todd	1,699	1,699	100.00%	9	11.22	20
Traverse	212	212	100.00%	7	9.88	15.7
Wabasha	1,681	1,681	100.00%	6	8.63	17
Wadena	1,372	1,372	100.00%	8	10.68	21
Waseca	1,343	1,343	100.00%	7	9.15	17.5
Washington	20,959	20,959	100.00%	6	6.82	12
Watonwan	736	736	100.00%	9	11.34	19
Wilkin	434	434	100.00%	8	11.03	21
Winona	3,481	3,481	100.00%	6	8.03	14
Wright	9,329	9,329	100.00%	10	11.37	20

Yellow Medicine	617	617	100.00%	8	11.27	18
No County Identified	1,701	1,701	100.00%	11	12.31	22
Statewide	546,554	546,554	100.00%	7	8.41	15

Figure 9 Percent Distribution of Unit Notified to Scene Time in Minutes Emergency Records, Ground Ambulances CY 2023

Figure 9 displays the percentage of emergency record type calls that are responded to in each minute of elapsed time. 76.22% of emergency calls for service received a response time of 10 minutes or less. Response time is measured from the time that the unit was notified by dispatch to the time that the unit arrived on scene. Table 6 provides detailed county level information for the data displayed here.

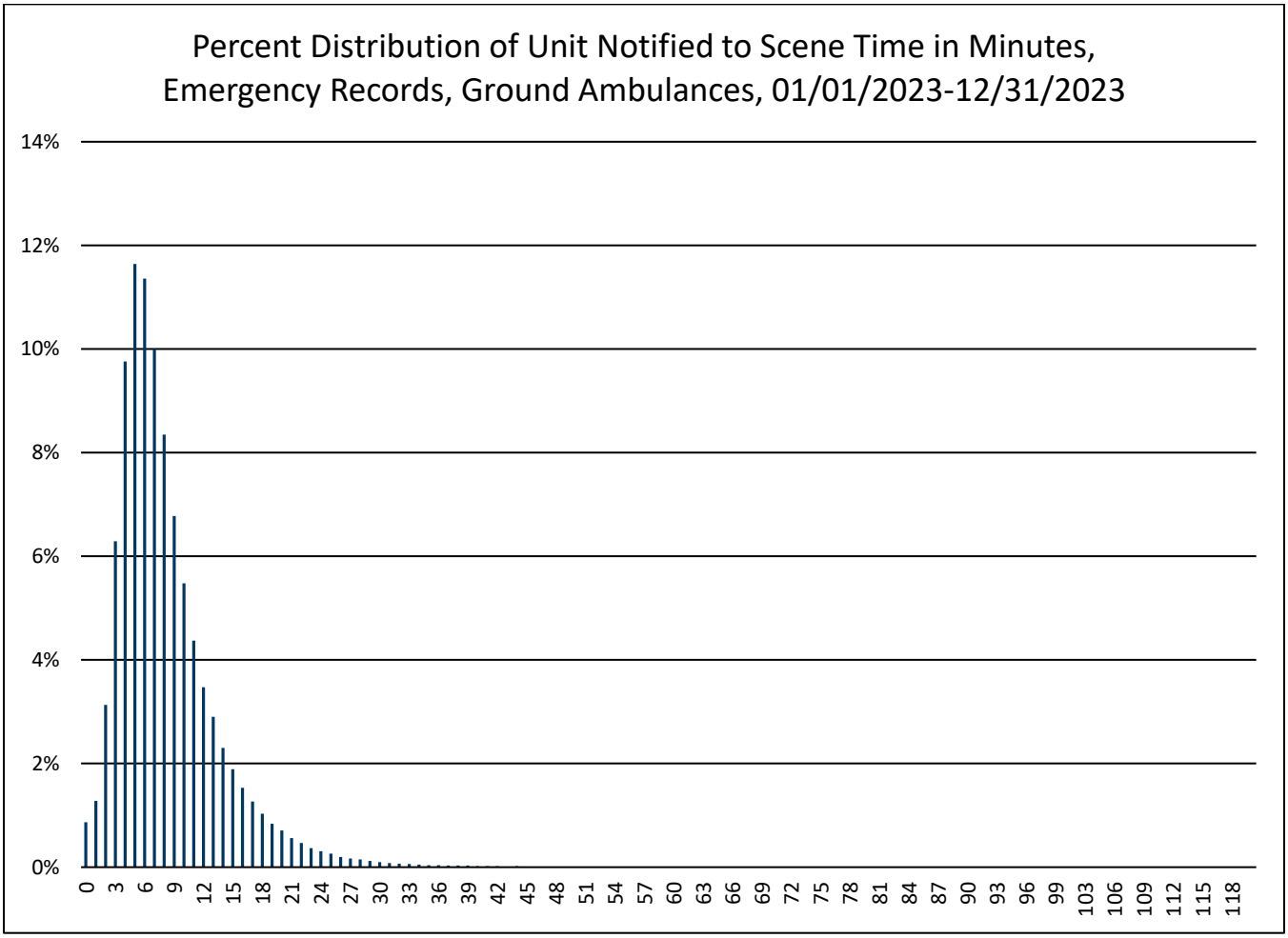

Map 5 90th Percentile Unit Notified by Dispatch to Ambulance Arrival [Ground Ambulances Only] (Emergency Records) CY2023

Map 5 displays for emergency response call types only, the 90th percent unit notified by dispatch to on scene interval for ground ambulances by county for CY2023.

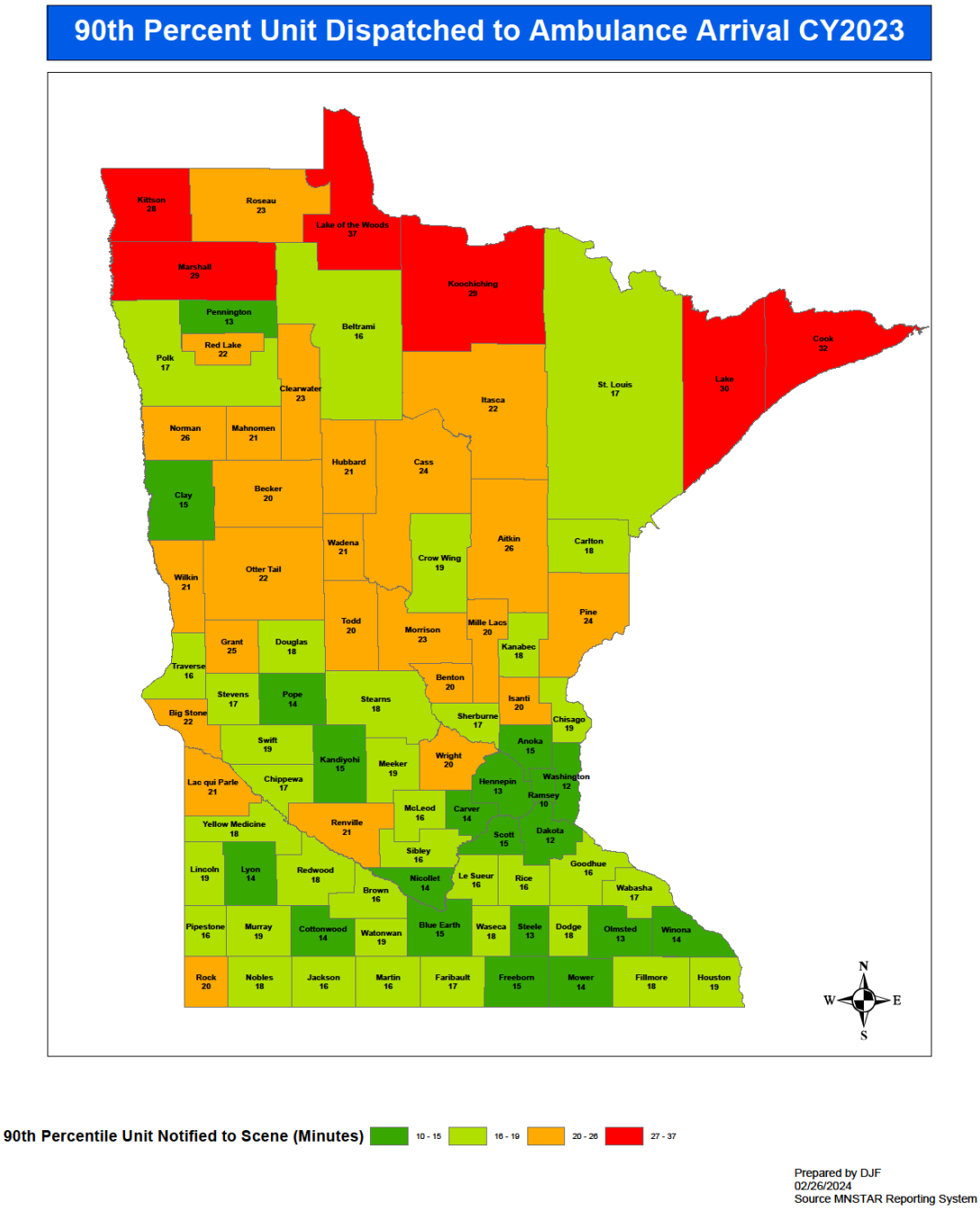

Table 7 Mobilization Time [Ground Ambulances] (Emergency Records) CY2023

Table 7 displays time intervals for median, average, and 90th percentile by Minnesota County for 911 ground ambulance responses. Mobilization time is calculated as the difference between the time that the unit was notified by dispatch, to the time that the unit reported being en route.

County	Median Mobilization Time	Average Mobilization Time	90th Percentile Mobilization Time
Aitkin	1	2.45	6
Anoka	0	0.58	1
Becker	0	0.98	3
Beltrami	1	1.18	2
Benton	1	0.67	2
Big Stone	6	6.61	11
Blue Earth	1	1.28	2
Brown	2	3.01	6
Carlton	2	2.60	6
Carver	1	1.00	2
Cass	1	1.94	4
Chippewa	4	4.95	9
Chisago	1	1.13	3
Clay	0	0.62	1
Clearwater	0	0.74	2
Cook	3	5.31	11.40
Cottonwood	5	5.84	8.80
Crow Wing	1	0.99	2
Dakota	1	0.85	2
Dodge	3	4.06	8
Douglas	1	1.64	3
Faribault	4	4.69	8
Fillmore	5	5.30	9
Freeborn	1	0.93	2
Goodhue	2	2.43	5
Grant	5	5.95	10

Hennepin	0	0.47	1
Houston	3	3.50	8
Hubbard	1	1.16	2
Isanti	1	1.01	2
Itasca	2	3.02	6
Jackson	4	5.04	9
Kanabec	2	2.46	5
Kandiyohi	2	2.60	6
Kittson	8	8.35	15
Koochiching	2	4.89	11
Lac qui Parle	4	6.70	11
Lake	3	3.80	6
Lake of the Woods	6	8.30	19
Le Sueur	2	2.87	6
Lincoln	4	5.48	10
Lyon	2	3.06	7
Mahnomen	3	4.34	8
Marshall	4	4.46	8
Martin	1	1.76	5
McLeod	1	1.29	3
Meeker	1	1.77	6
Mille Lacs	1	1.00	2
Morrison	1	1.04	2
Mower	1	1.72	5
Murray	5	6.23	9
Nicollet	1	1.11	2
Nobles	2	3.90	7
Norman	3	2.97	5
Olmsted	0	0.79	2
Otter Tail	2	2.30	5
Pennington	0	0.66	1
Pine	2	1.75	3
Pipestone	4	4.36	8

Polk	2	2.87	6
Pope	2	1.87	4
Ramsey	1	1.28	2
Red Lake	4	4.99	9
Redwood	3	3.43	7
Renville	6	6.37	11
Rice	1	0.81	2
Rock	2	3.46	8.20
Roseau	3	3.84	7
Scott	1	0.89	2
Sherburne	1	2.08	9
Sibley	3	3.33	7
St. Louis	1	1.73	5
Stearns	0	1.20	4
Steele	1	1.08	2
Stevens	4	3.86	7
Swift	6	6.56	10
Todd	3	3.68	7
Traverse	4	4.99	8
Wabasha	2	2.64	6
Wadena	1	1.05	2
Waseca	1	1.75	4
Washington	0	0.59	2
Watonwan	5	5.51	9.40
Wilkin	3	4.16	8
Winona	1	2.02	5
Wright	1	1.98	5
Yellow Medicine	4	4.34	7
No County Identified	1	1.72	4
Statewide	1	1.22	3

Map 6 90th Percent Mobilization Time [Ground Ambulances] (Emergency Records)

Map 6 displays for emergency response call types only, the 90th percent mobilization time interval for ground ambulances by county for CY2023.

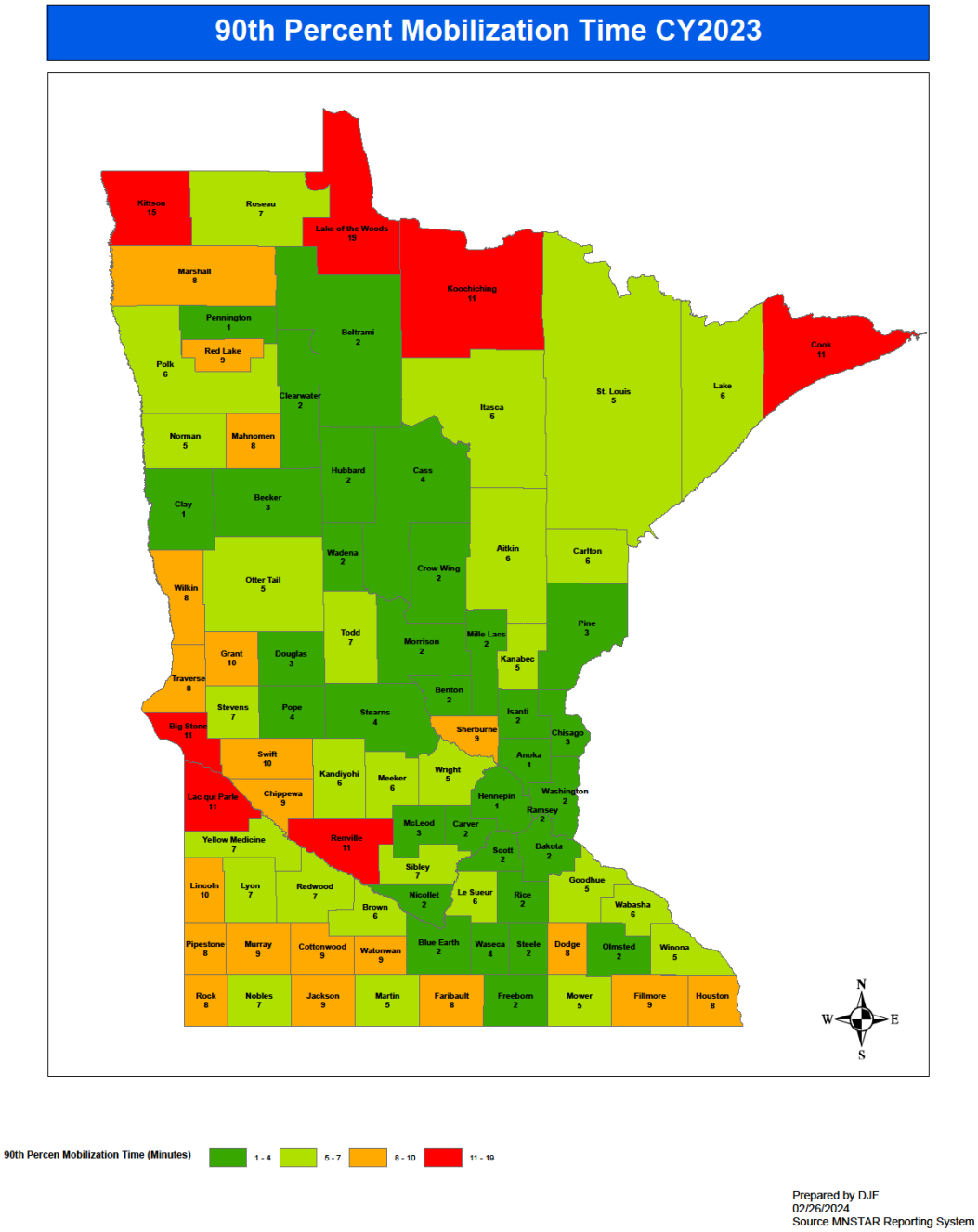

Map 7 Number of EMRs Certified by County CY2022

Map 7 displays by Minnesota County the number of certified EMR's as of the end of CY2023.

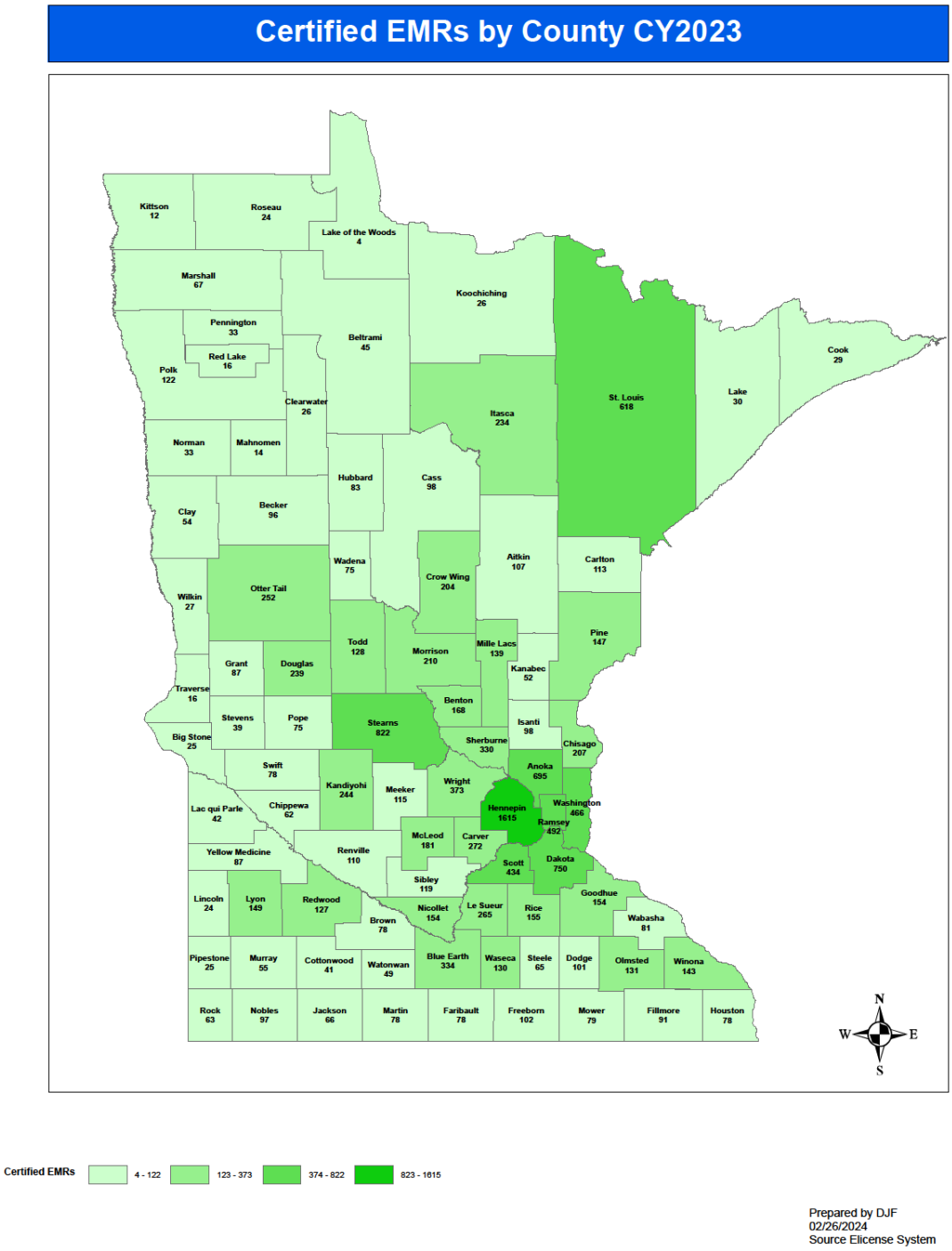

Map 8 Number of EMTs Certified by County CY2023

Map 8 displays the number of certified EMTs by Minnesota county at the end of CY2023.

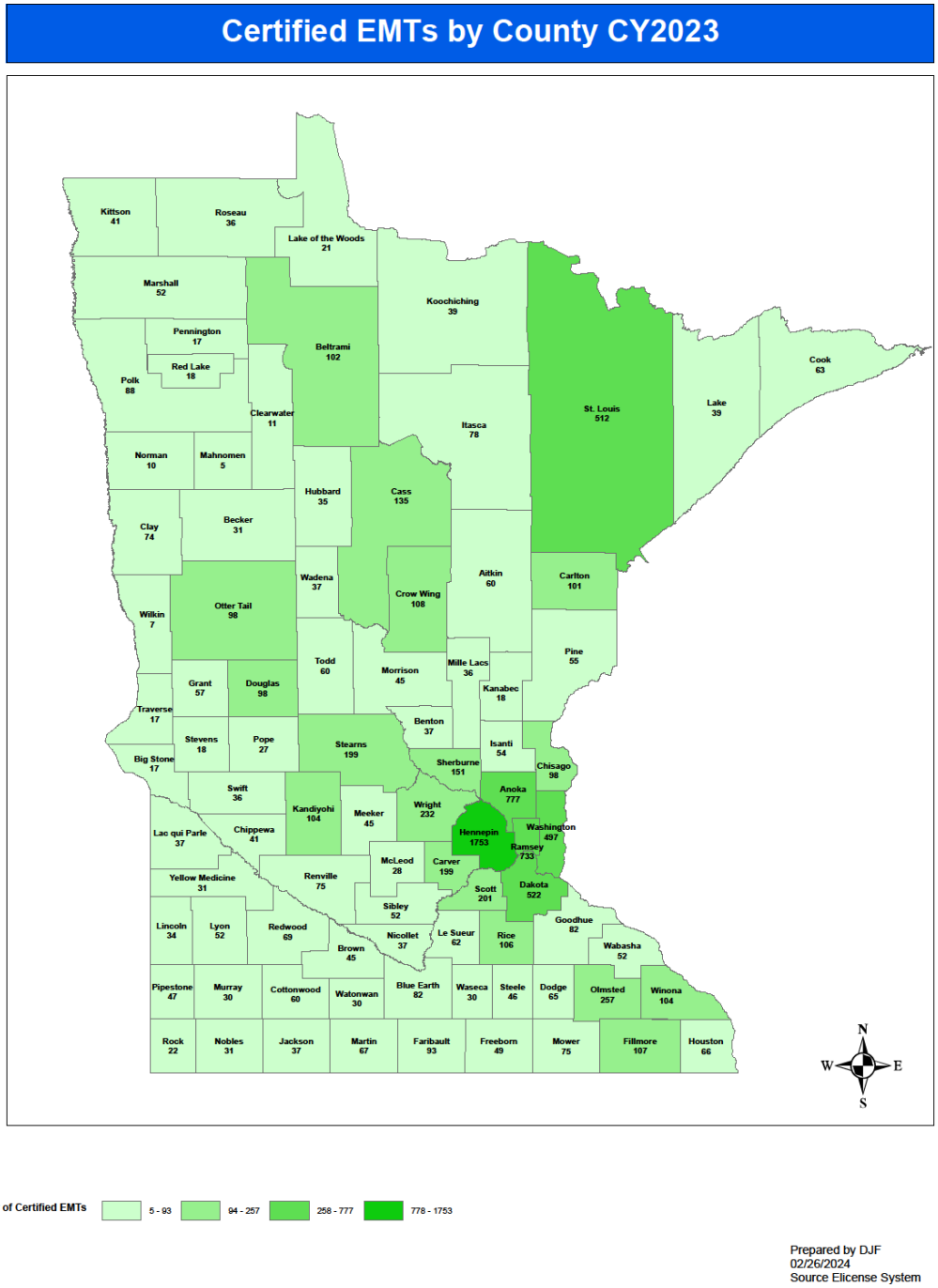

Map 9 Number of EMS Provider Expirations During CY2023 All Certification Levels
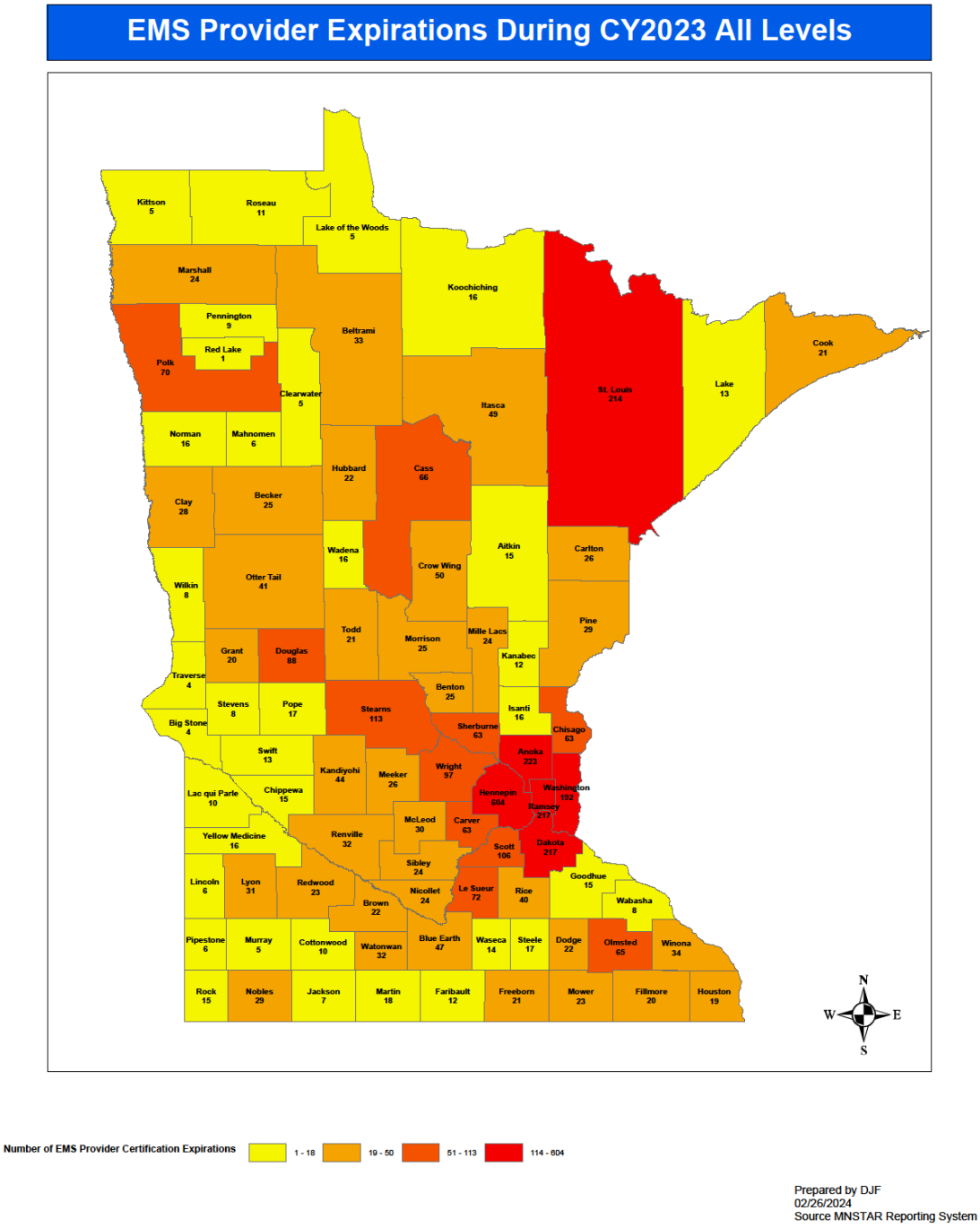
Map 9 displays the number of credentialed EMS providers at all levels (EMR, EMT, AEMT, Paramedic) that allowed their credential to expire during CY2023.